Welcome to AI-assisted

LA Homeowner Wildfire Risk Analysis Tool

Description of purpose, functionality, etc.

Get Started →

I am a...

Current LA Homeowner

Select to learn more about risk measures you can take for your current property.

Prospective Buyer

Researching Properties

ANALYZE A PROPERTY

Search by address or click anywhere on the map to select a location, then generate your risk report.

Skyhawk Lane, Los Angeles County, California, 90290, United States

Search

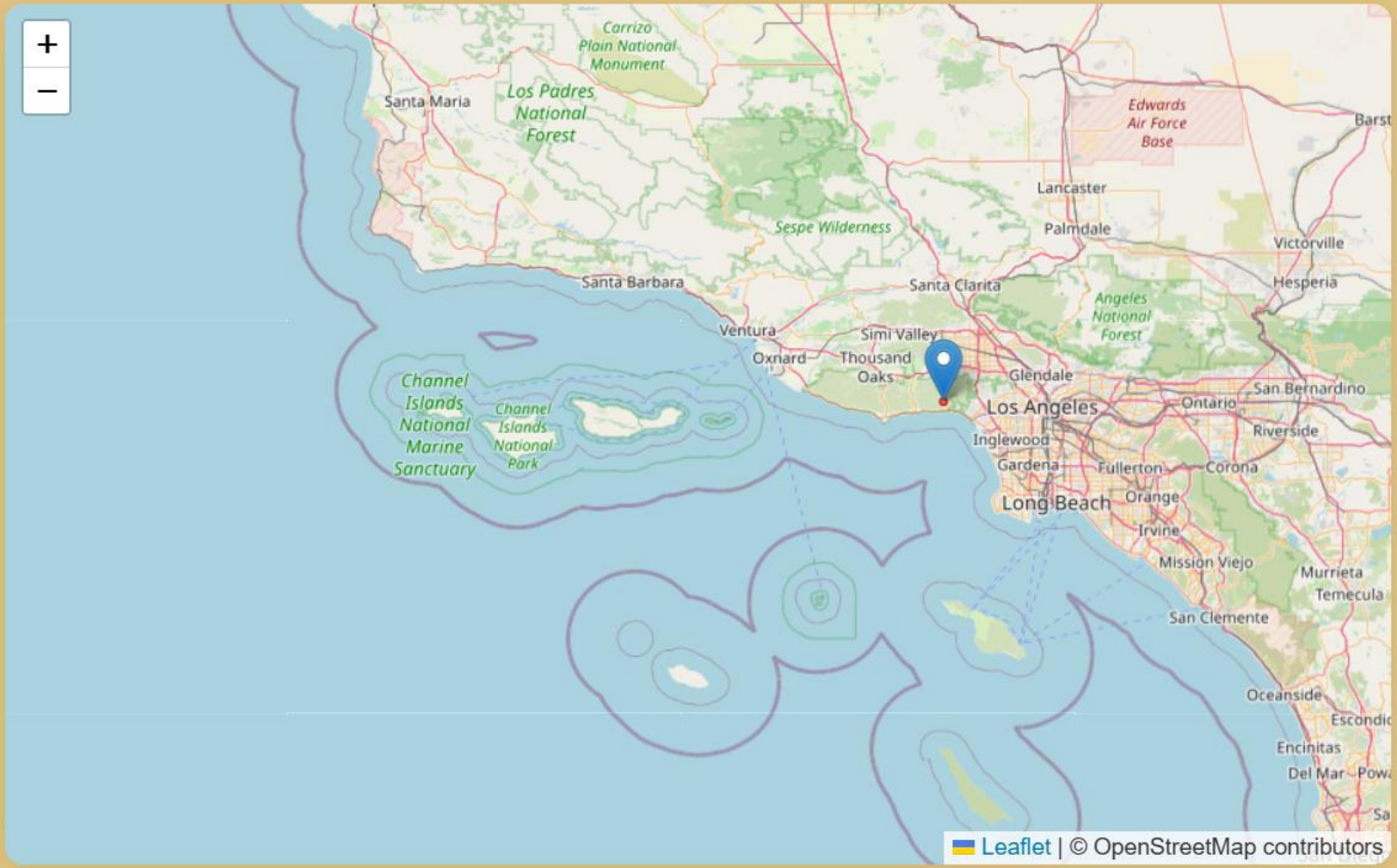

Generate Risk Report

Your risk report is ready, how would you like to view it?

Guide me through it

Export risk report summary

We have retrieved the following structural property data for *address*.
Before continuing to your report, would like to edit/fill in any details?

Year built: *2012*

Roof type:

Lot size:

Edit

Skip property details,
I'm ready to see my report

Wildfire Risk Report

1440 N Topanga Canyon Blvd, Topanga, CA 90290

CONFIDENCE: HIGH

Overall Risk Score

How is my risk score calculated?

Moderate To High Risk

- fires are trending closer over time
- closest recorded fire was Palisades (2021, 2.0 miles away)
- fire frequency has been declining recently (100 fires on record)
- current median home value ~$1,428,728, +11.8% over last 5 years (moderate growth)
- official state hazard classification: Very High

Signals for homeowners will be more focused on property details that cause high risk

→ ***Structural properties: construction type, year built***

→ ***Defensible space standards***

→ ***Geolocation/area risk***

Insurance Info

FAIR Plan dataset signal: ZIP 90290 shows reported residential exposure. FY2025 total insured value: $2,804,784,550. Five-year change: **50.8%**. The **FAIR Plan** residential exposure in ZIP 90290 indicates a total insured value of **$2,804,784,550**, with a significant increase of **50.8%** in exposure over the last five years, reflecting heightened concerns among insurers regarding wildfire risks. This may lead to limited options for private insurance coverage and increased costs for homeowners in the area.

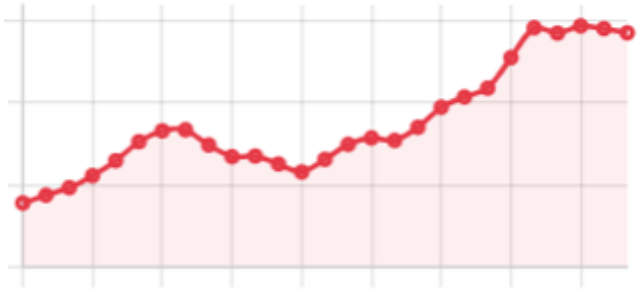

IS THIS ZIP COVERED BY FAIR PLAN?

YES

FY2025 total insured value: $2,804,784,550. 5-year change: 50.8%.

Bring in data for continued vs non continued coverage

- Renewal trend

Overall Risk Summary

How is my risk score calculated?

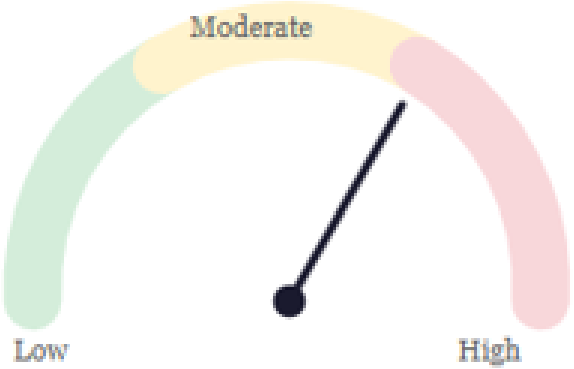

Moderate To High Risk

Export report in new tab

Continue to Insurance Overview→

Insurability Information

IS THIS ZIP COVERED BY FAIR PLAN?

YES

FY2025 total insured value: $2,804,784,550. 5-year change: 50.8%.

FAIR Plan dataset signal: ZIP 90290 shows reported residential exposure. FY2025 total insured value: $2,804,784,550. Five-year change: **50.8%**. The **FAIR Plan** residential exposure in ZIP 90290 indicates a total insured value of **$2,804,784,550**, with a significant increase of **50.8%** in exposure over the last five years, reflecting heightened concerns among insurers regarding wildfire risks. This may lead to limited options for private insurance coverage and increased costs for homeowners in the area.

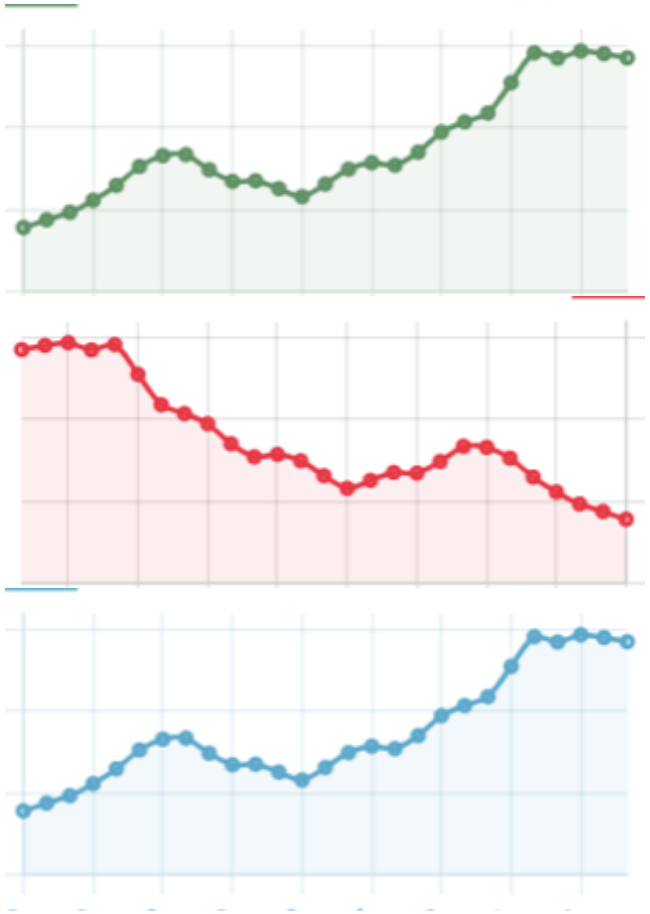

[Export report in new tab]

Continue to Recommendations→

What can I do?

Based on your property assessment, here are your top 3 recommended steps to reduce your property risk:

1. Recommendation 1
2. Recommendation 2
3. Recommendation 3

Export report in new tab

Continue to Insurance Overview→